Department of Energy, Mines, Industry Regulation and Safety

GOVERNMENT OF WESTERN AUSTRALIA

Map services

From 2022 onwards, the Map services of DMIRS are available through data.wa.gov.au. Click the link and search for the required data set.

How to access the map services?

1. Click the link to go to data.wa.gov.au website or alternatively copy the following link and paste in the web browser.

   https://catalogue.data.wa.gov.au/dataset/?organization=department-of-mines-industry-regulation-and-safety

2. The web page will display all the datasets available from DMIRS organization.

3. For example, if the user wants to access the map services for 'Tenements' dataset, type 'Tenements' in the search box and click the search button.

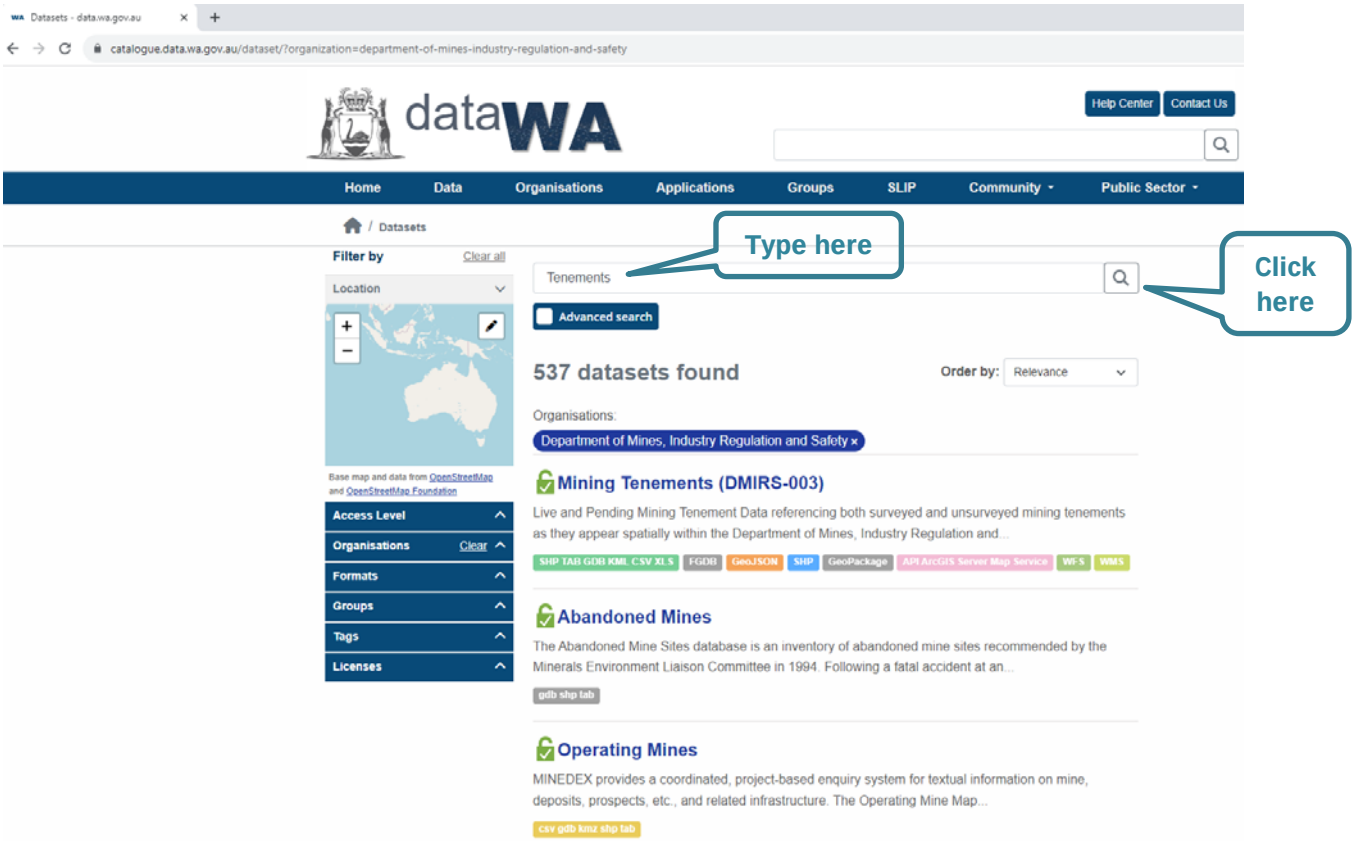

4. Click the required dataset from the list (Ex: Mining Tenements (DMIRS-003))

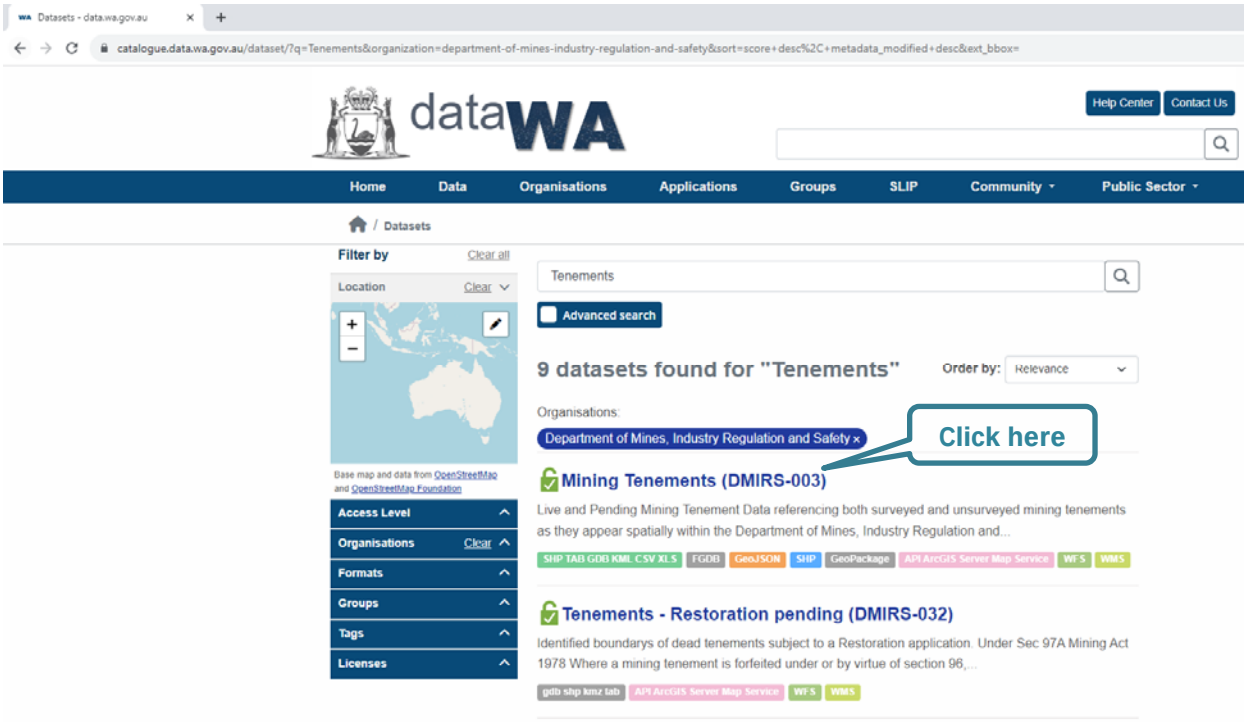

5. Expand the Web Services & APIs under 'Data and Resources' tab by clicking the down arrow.

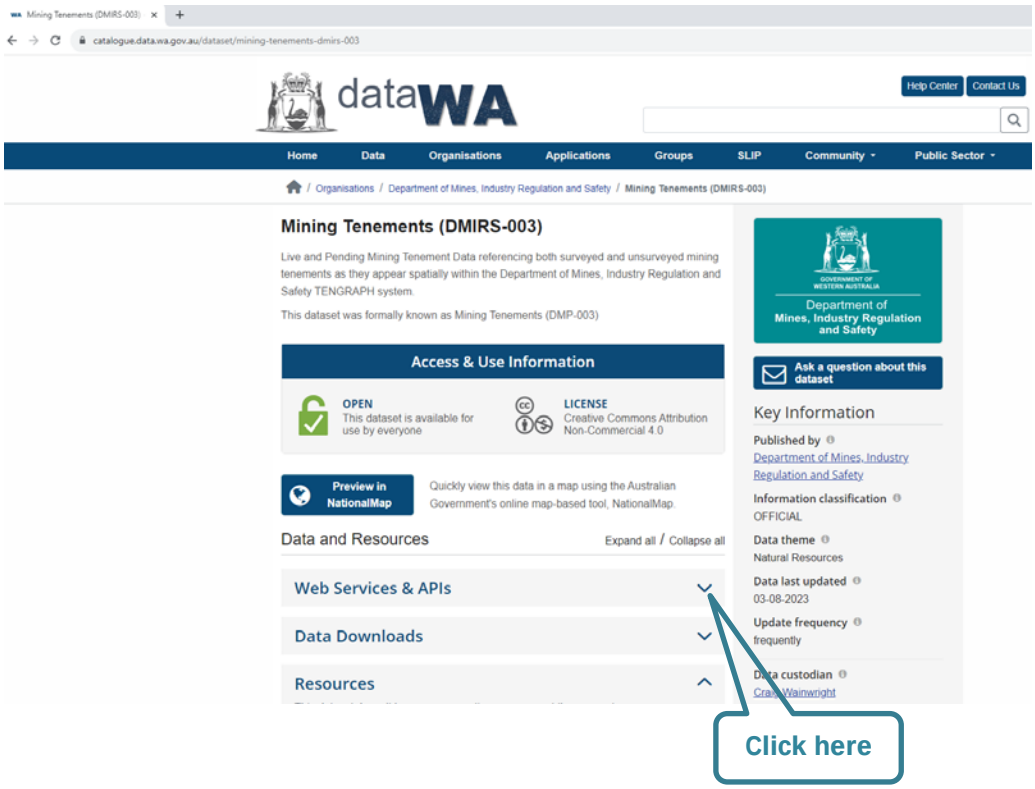

6. 'Web Services & APIs' provides available map services of the product. Most of the datasets will have ArcGIS Server Map Service, Web Feature Service and Web Mapping Service.

7. Click 'Copy URL'

of the required map service to get the link.

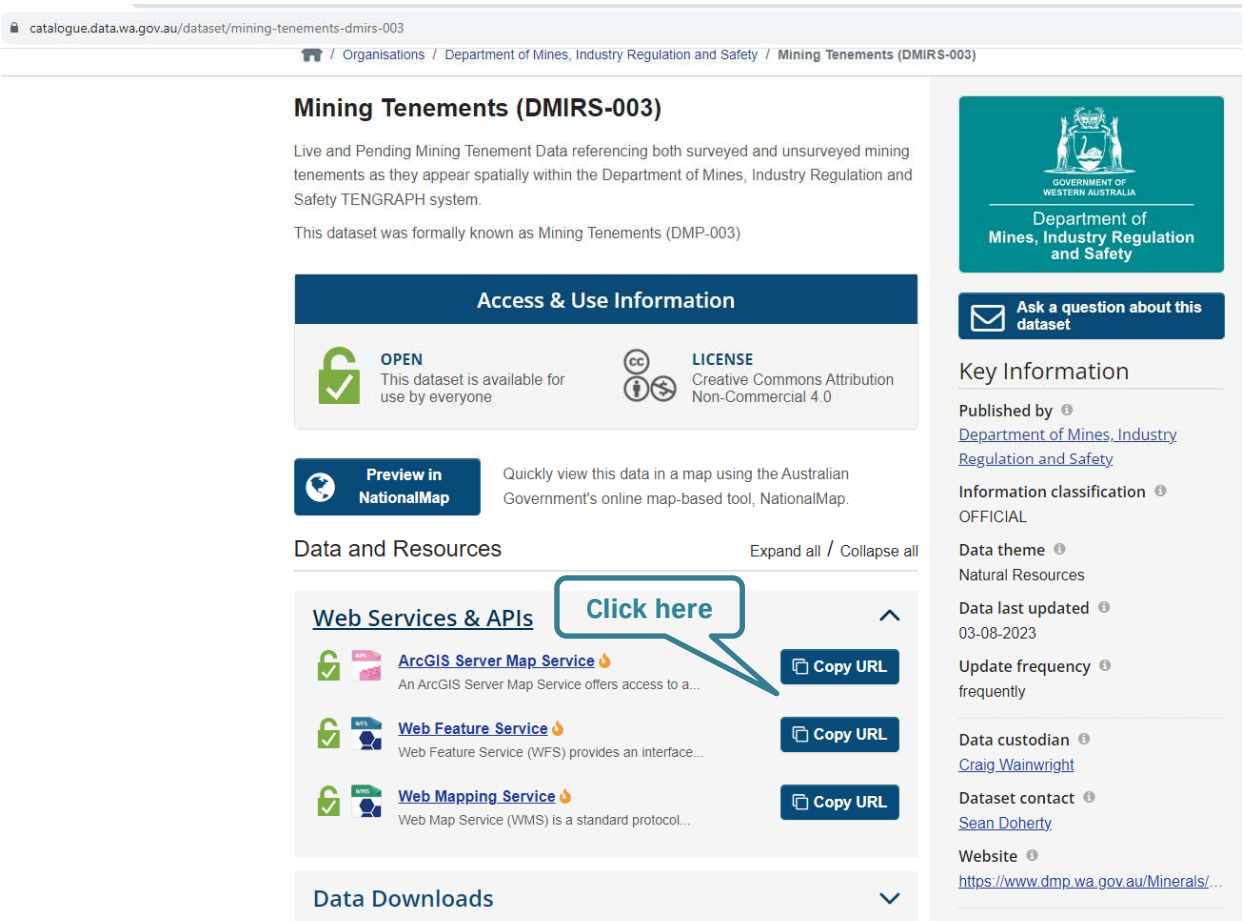

8. Paste the link in your GIS program to access the dataset through the map service.